Wheels Down, Forks Up: Selecting Our Bangalore Best Spot.

Using restaurant competition and mobility data to identify the strongest candidate launch location for our food truck.

Monika Sinha & Estefania Barrosa
Ironhack Data Analytics Bootcamp

The Business Problem

High Competition

Urban food markets are crowded and location risk is high.

Variable Customer Demand

Customer activity varies significantly across areas.

Unclear Opportunity

Location decisions are often made without evidence.

Can data help identify a stronger launch location for a food truck in Bangalore?

Our Analytical Approach

Market Data → Location Demand Signals (API) → Opportunity Scoring

Cleaned and filtered 8,400+ Quick Bite restaurants

- Restaurant concentration
- Pricing patterns
- Ratings activity

Integrated external demand signals across matched locations

- Foot Traffic
- Activity Levels
- Movement Patterns

Combined supply, demand and pricing indicators

- Supply vs Demand Gap
- Opportunity Index
- Final Location Ranking

Dataset Snapshot

8,431 Restaurants analyzed	**6** Matches locations	**5** Variables Integrated

EDA Finding #1

Restaurant Competition Is Concentrated in Key Locations

Restaurant competition is heavily concentrated in a small number of neighborhoods, particularly BTM, HSR, Jayanagar and Whitefield.

Suggests higher competitive pressure for new entrants.

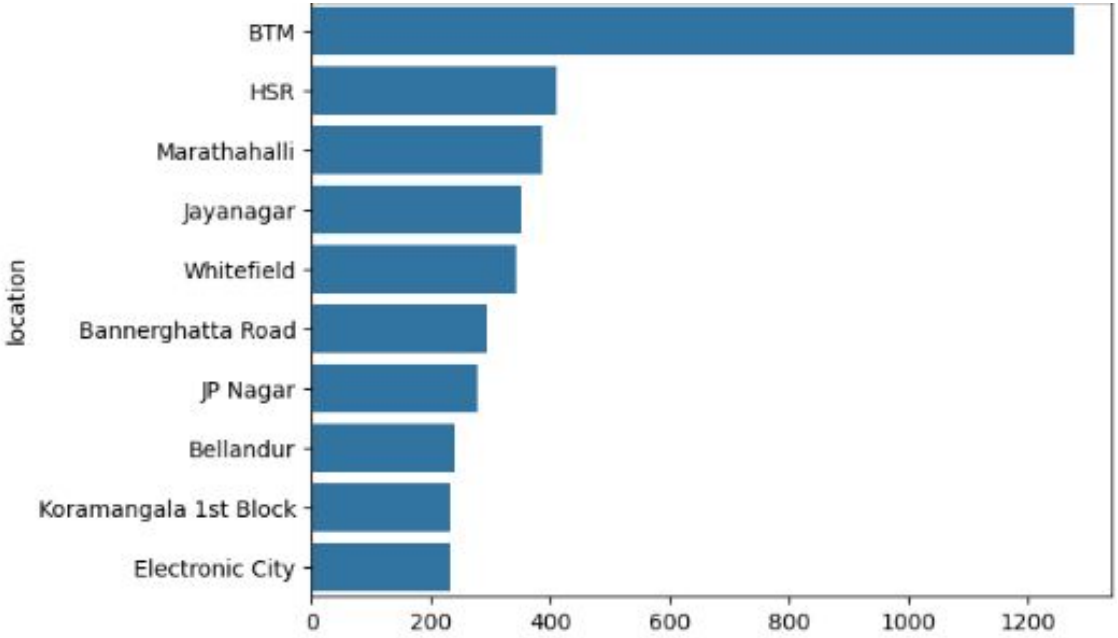

EDA Finding #2

Demand Signals Vary Across Locations

Key Insight

- Basavanagudi shows the highest demand signal
- Jayanagar also shows relatively strong demand
- Demand is not always aligned with the most saturated areas

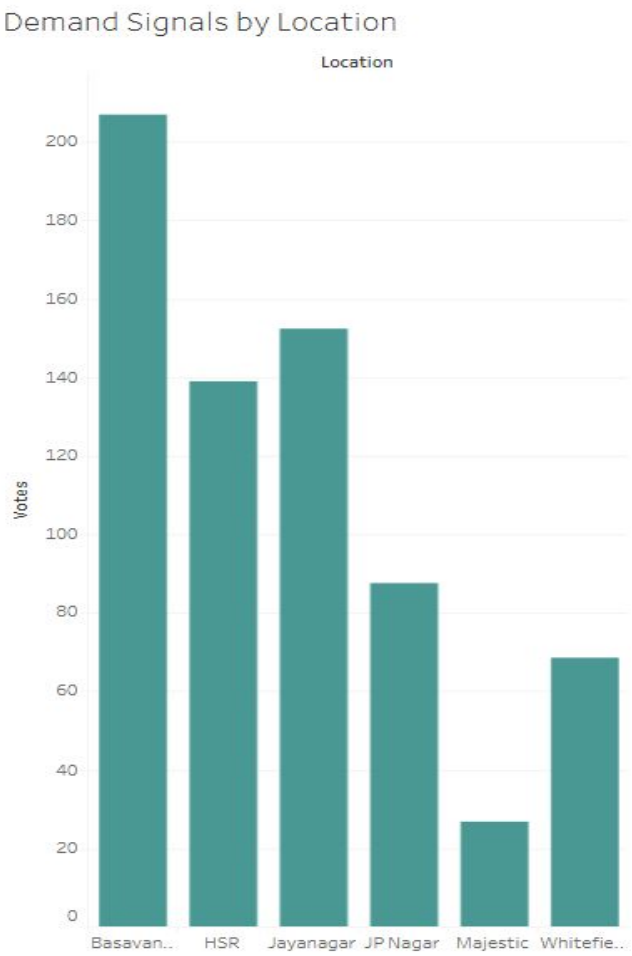

Cross-referencing supply and demand revealed underserved high-potential zones

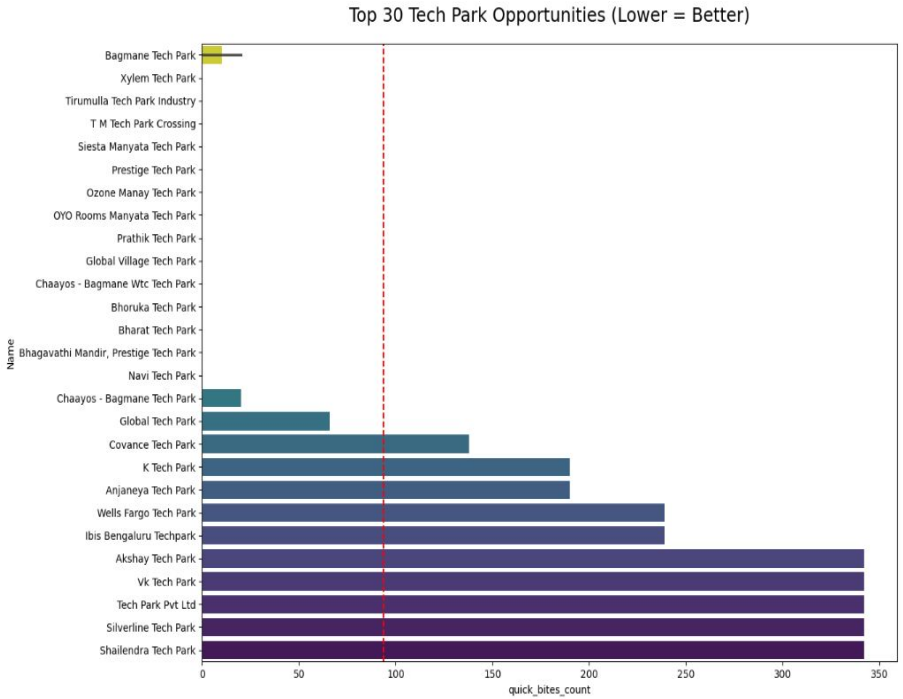

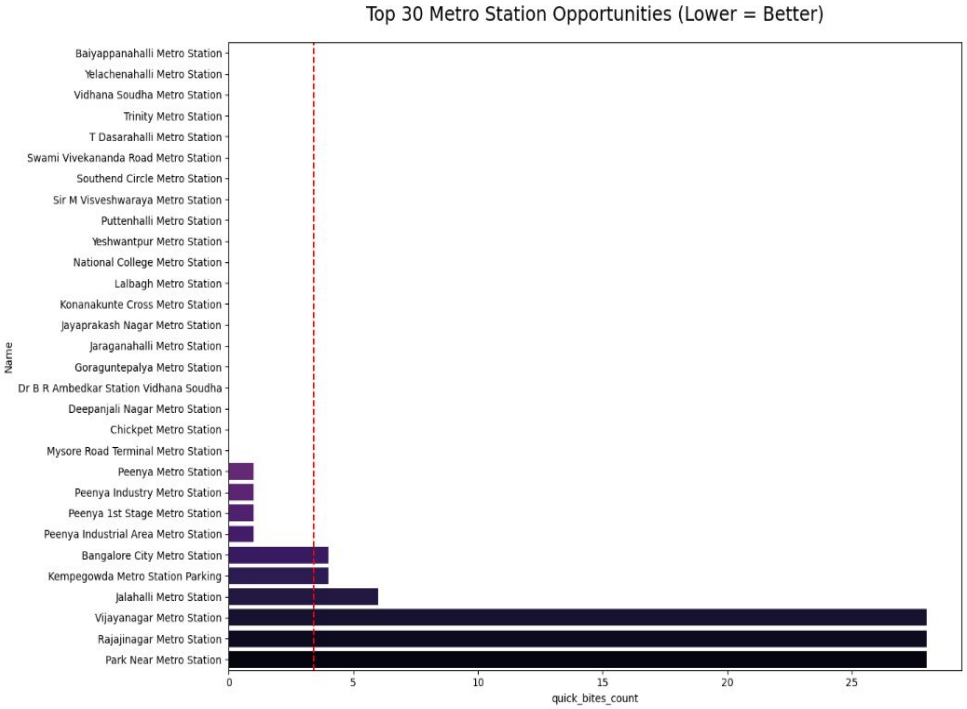

Recommendation:

Basavanagudi and Mahadevapura emerged as the strongest candidates for pilot locations.

Moderate Demand
Steady customer activity

Lower Competition
Relatively less saturated

High Opportunity Signal
Balanced demand vs saturation

Pilot Operating Concept following the Crowd model:

8 AM – 10 AM Metro Station

Basavanagudi

→

12 PM – 2 PM

Tech Parks in

Mahadevapura

This model could help align operations with shifting demand throughout the day.

Model Limitations and Challenges

Strengths	Limitations
Real-time coordinates TomTom identified active business hubs.	**Informal vendors excluded** Zomato doesn’t track illegal or unmapped street carts.
Clean location matching Reduced fragmented neighborhood data.	**Indoor canteens not captured** Tech Park’s internal canteens don’t appear in the data.
Objective benchmarking Used consistent comparison logic.	**Static snapshot, not live demand** Our CSV data is a "photo" of the past; it doesn't show how traffic changes on rainy days.

Strategic Outlook

From Pilot to Scalable Model

Current Model
What we built

Core Feature: Static Cross-Referencing (TomTom POIs + Zomato CSV).

Result: Identification of 10 "Market Deserts."

The Live Engine
Next Step

API Upgrade: Integration of **TomTom Routing & Traffic APIs**.

Feature: Real-time pedestrian flow analysis. Calculating "walking time" rather than just "distance."

Scalability

API Upgrade: Weather & Event APIs (e.g., Google Events).

Feature: The model tells the truck where to move *before* the rush starts based on rain or local tech conferences.

Thank you!